INTERACTIVE DASHBOARDS

Visual Analytics & Tableau Visualizations

Total Visualizations: 19
Dashboards Created: 6
Stories Developed: 3

1. DASHBOARD GALLERY

Dashboard 1: Regional Consumption Heatmap - Five regions with comparative analysis

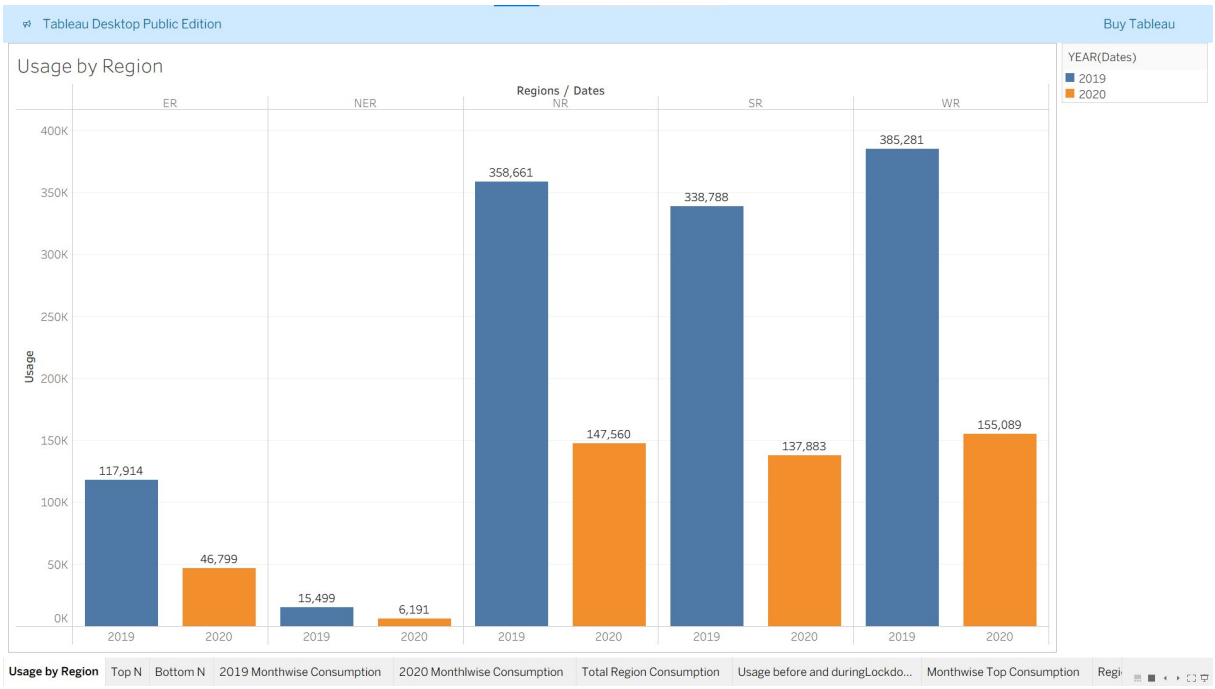

Dashboard 2: Monthly Trend Lines - 2019 vs 2020 overlaid comparison

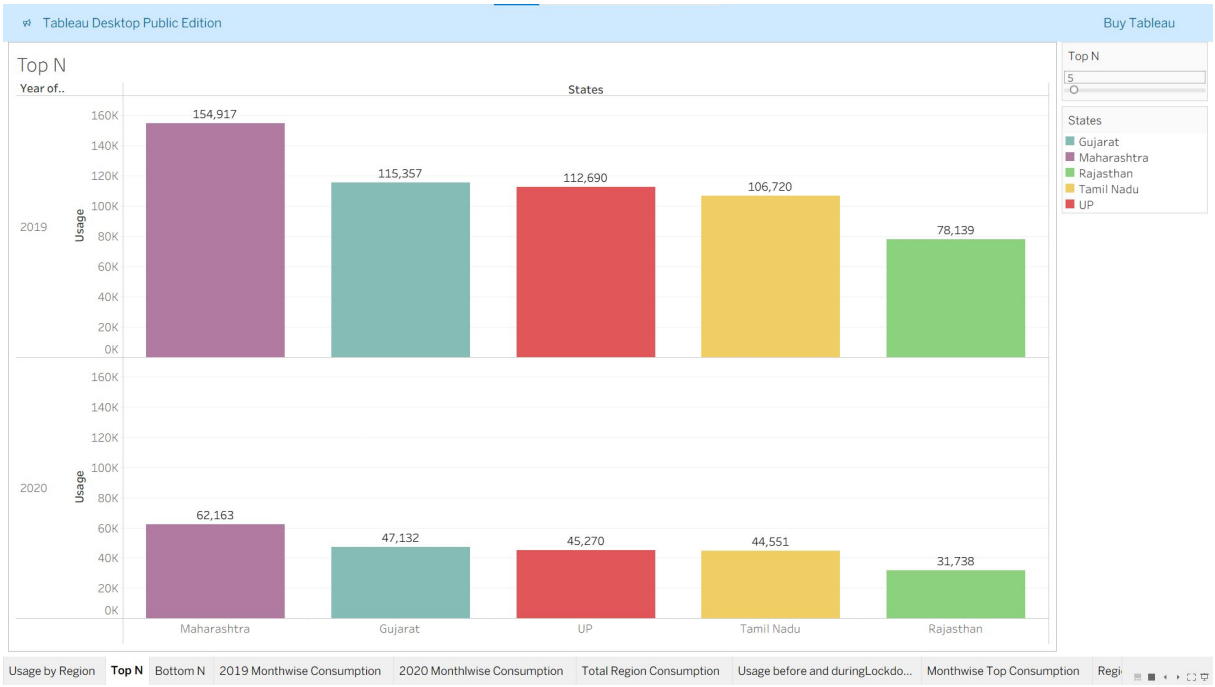

Dashboard 3: Quarterly Performance - Seasonal variations analysis

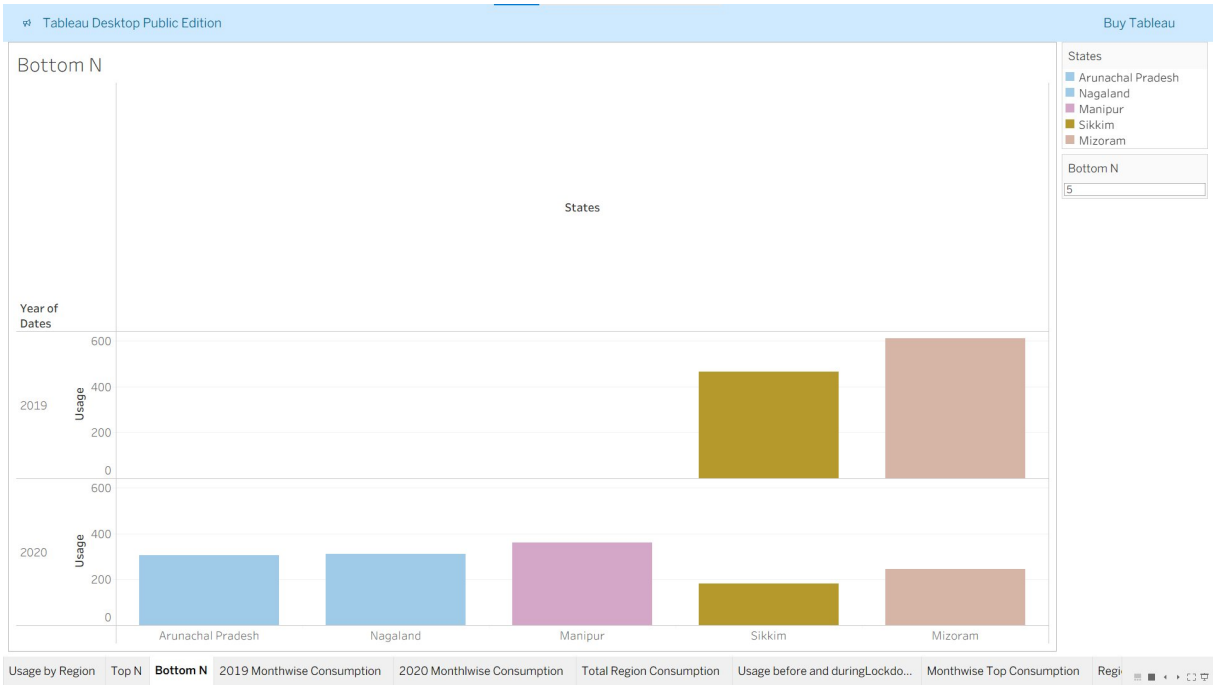

Dashboard 4: State Rankings - Top 10 and Bottom 5 consumers

Dashboard 5: Lockdown Impact - March to June 2020 deep dive

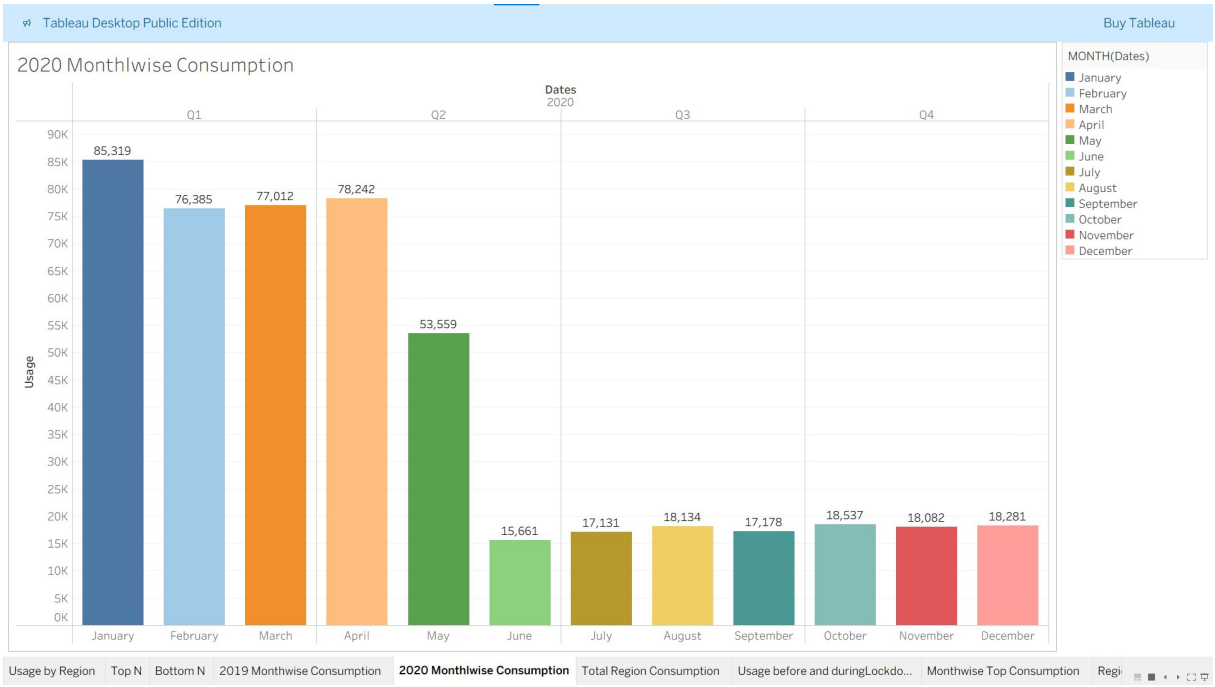

Dashboard 6: Recovery Curves - Post-lockdown trajectory analysis

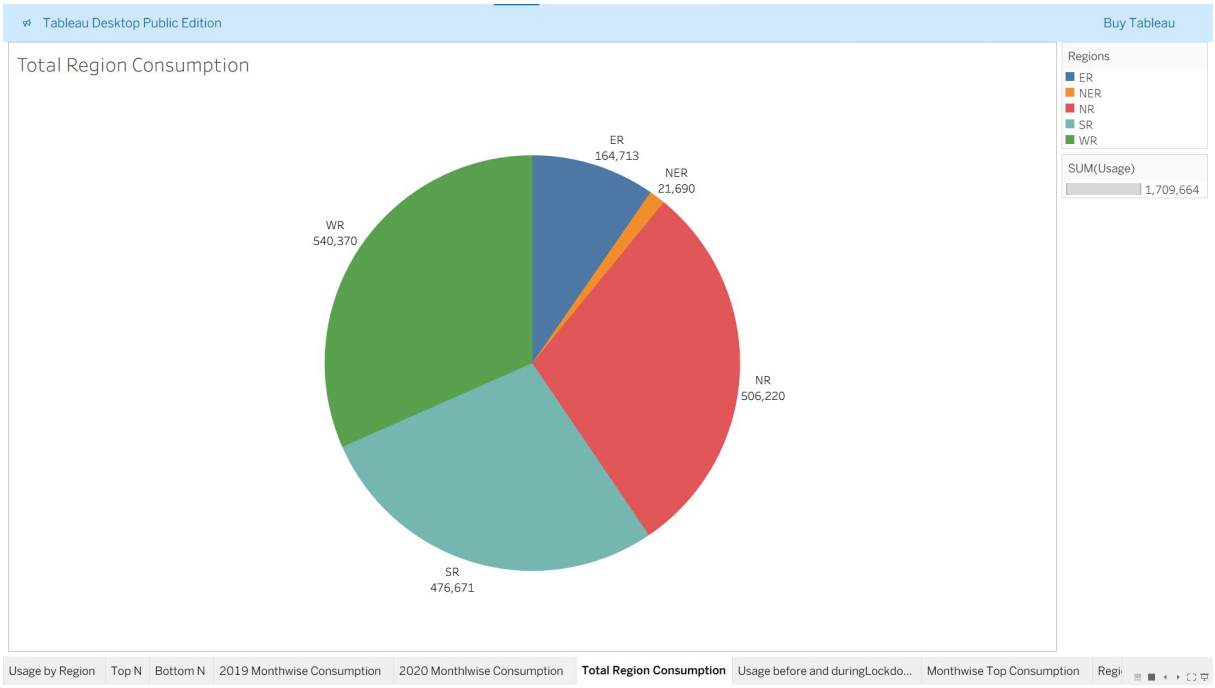

Dashboard 7: YoY Changes - Percentage variations with trend indicators

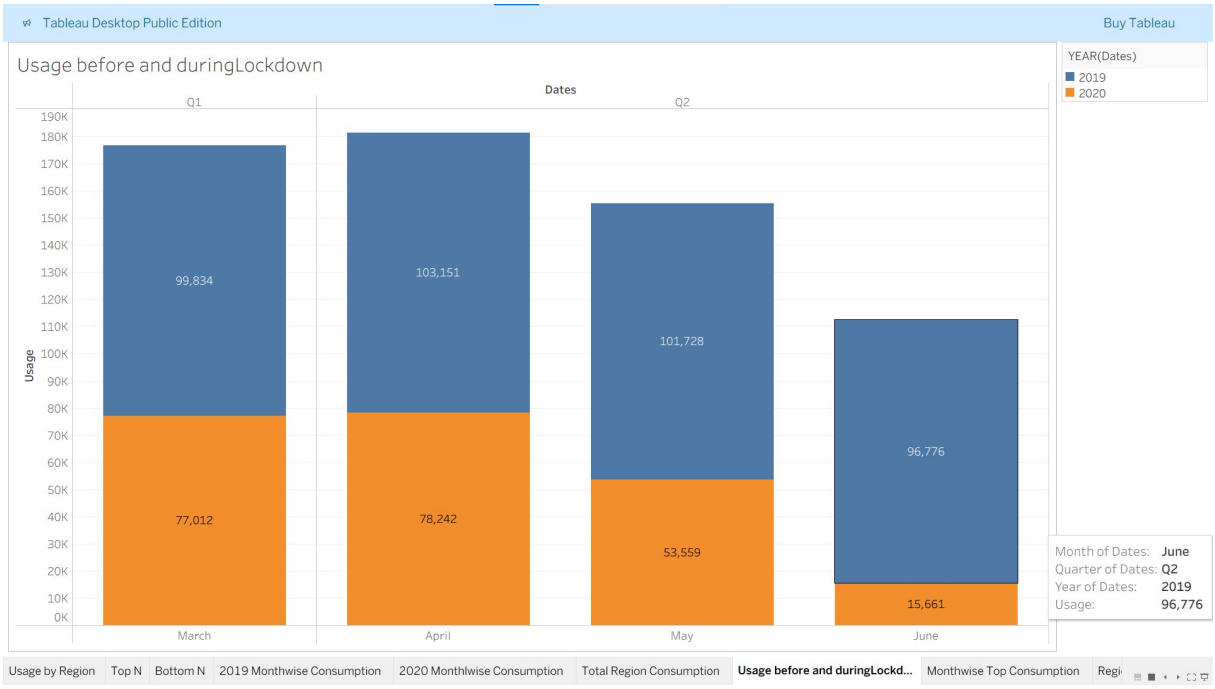

Dashboard 8: Regional Distribution - Market share and proportions

Dashboard 9: Top States Spotlight - Detailed consumption patterns

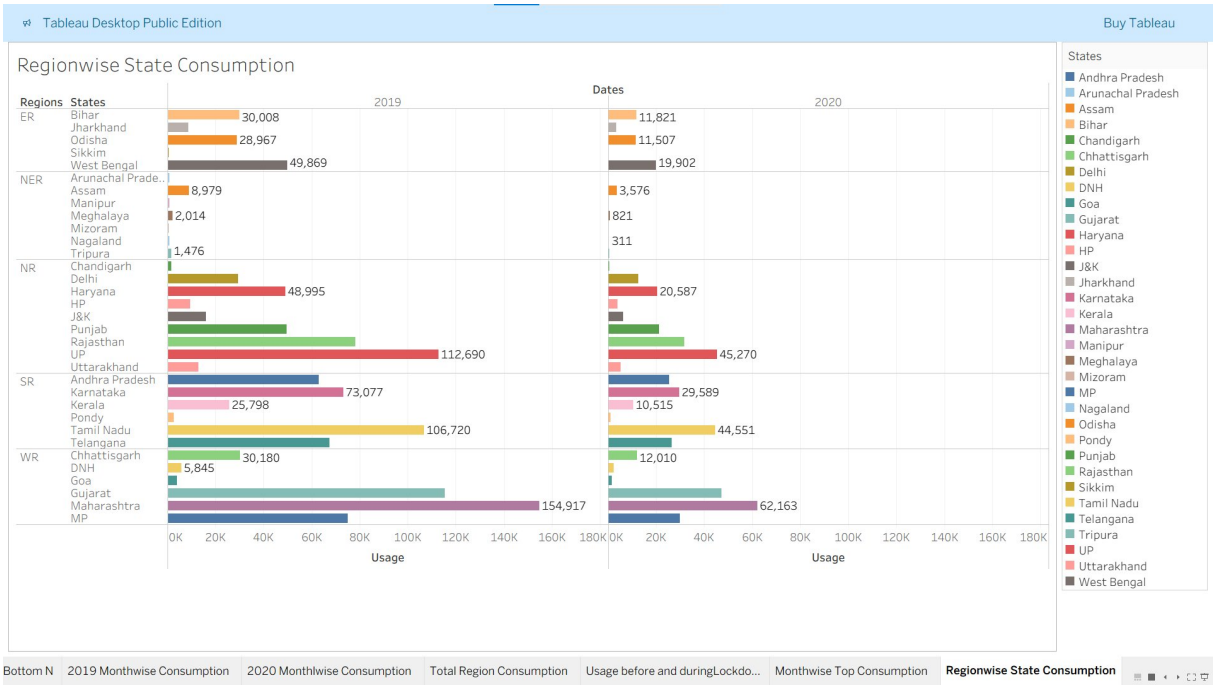

2. INTERACTIVE FEATURES

- **Filter by Region:** Select WR, NR, SR, ER, or NER to isolate regional data
- **State Drill-down:** Click on any region to expand and view state-level details
- **Date Range Selector:** Choose custom date ranges for temporal analysis
- **Metric Toggling:** Switch between units, percentages, and rankings
- **Hover Tooltips:** View exact values and contextual information on data points
- **Dynamic Sorting:** Sort by consumption, state name, or time period
- **Export Functionality:** Download visualizations as PDF, PNG, or Excel

3. VISUALIZATION TYPES USED

- **Line Charts:** Trend analysis over 24-month period, showing seasonal patterns
- **Bar Charts:** Regional and state-wise comparisons with sorted rankings
- **Heatmaps:** Intensity visualization of consumption across states and months
- **Area Charts:** Cumulative regional consumption with stacked layers
- **Pie Charts:** Regional market share and proportional distribution
- **Combination Charts:** Dual-axis analysis of units and growth percentages